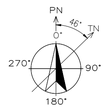


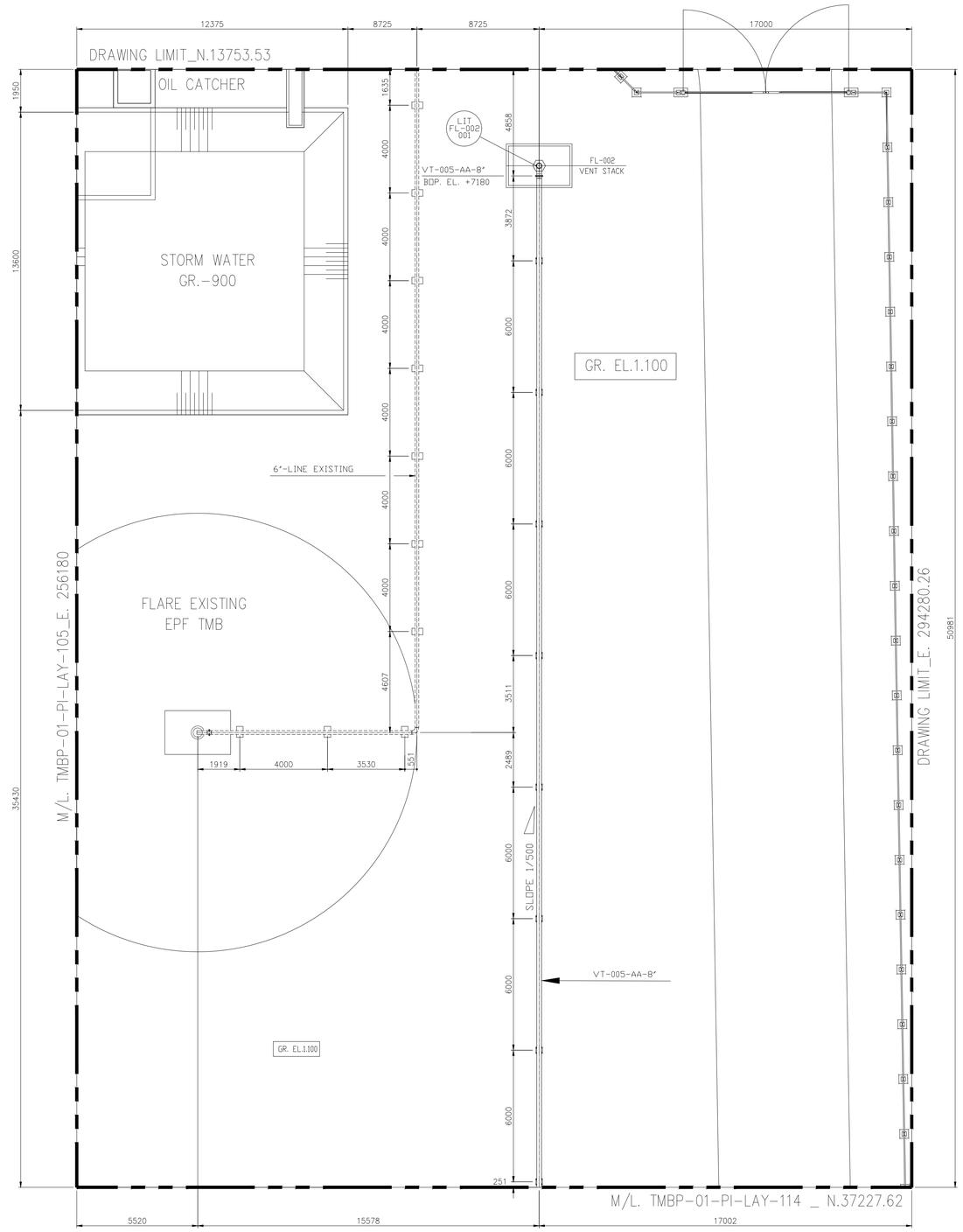


KEY PLAN

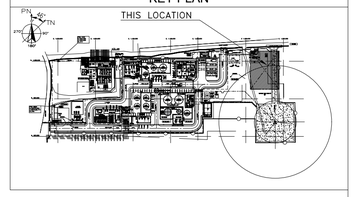


NOTE
1. ALL DIMENSIONS ARE IN MILLIMETERS, ELEVATION AND COORDINATE ARE IN METERS UNLESS OTHERWISE NOTED.
2. FINISH GROUND LEVEL EL = 0.00 = MSL+34.000

| REFERENSI GAMBAR | DESKRIPSI REFERENSI | REV. | TANGGAL | URAIAN PERUBAHAN GAMBAR | DIGAMBAR | DIPERIKSA |
|---|---|---|---|---|---|---|
| TMBP-01-PI-PLP-101 | OVERALL PLOT PLAN | | | | | |
| TMBP-01-PI-PLP-102 | PLOT PLAN | | | | | |
| TMBP-01-PI-DNX-101 | OVERALL PLOT PLAN | A | 29/12/2025 | ISSUED FOR REVIEW | AGS | – |

| PT. PERTAMINA HULU ROKAN APPROVAL | |
|---|---|
| DIPERIKSA | DISETUJUI |

PROYEK:
JASA PEMBANGUNAN FASILITAS PRODUKSI STASIUN PENGUMPUL (SP) TANJUNG MIRING BARAT & KARANGAN TIMUR

PEMILIK PROYEK:
skkmigas PERTAMINA EP

KONTRAKTOR:
POG

| SKALA: | NOMOR GAMBAR: | SHEET. NO. | REV |
|---|---|---|---|
| 1:100 | TMBP-SP001-PI-LAY-D106 | 1 OF 1 | A |

JUDUL GAMBAR:

PIPING LAYOUT AROUND VENT STACK AREA