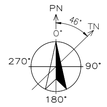

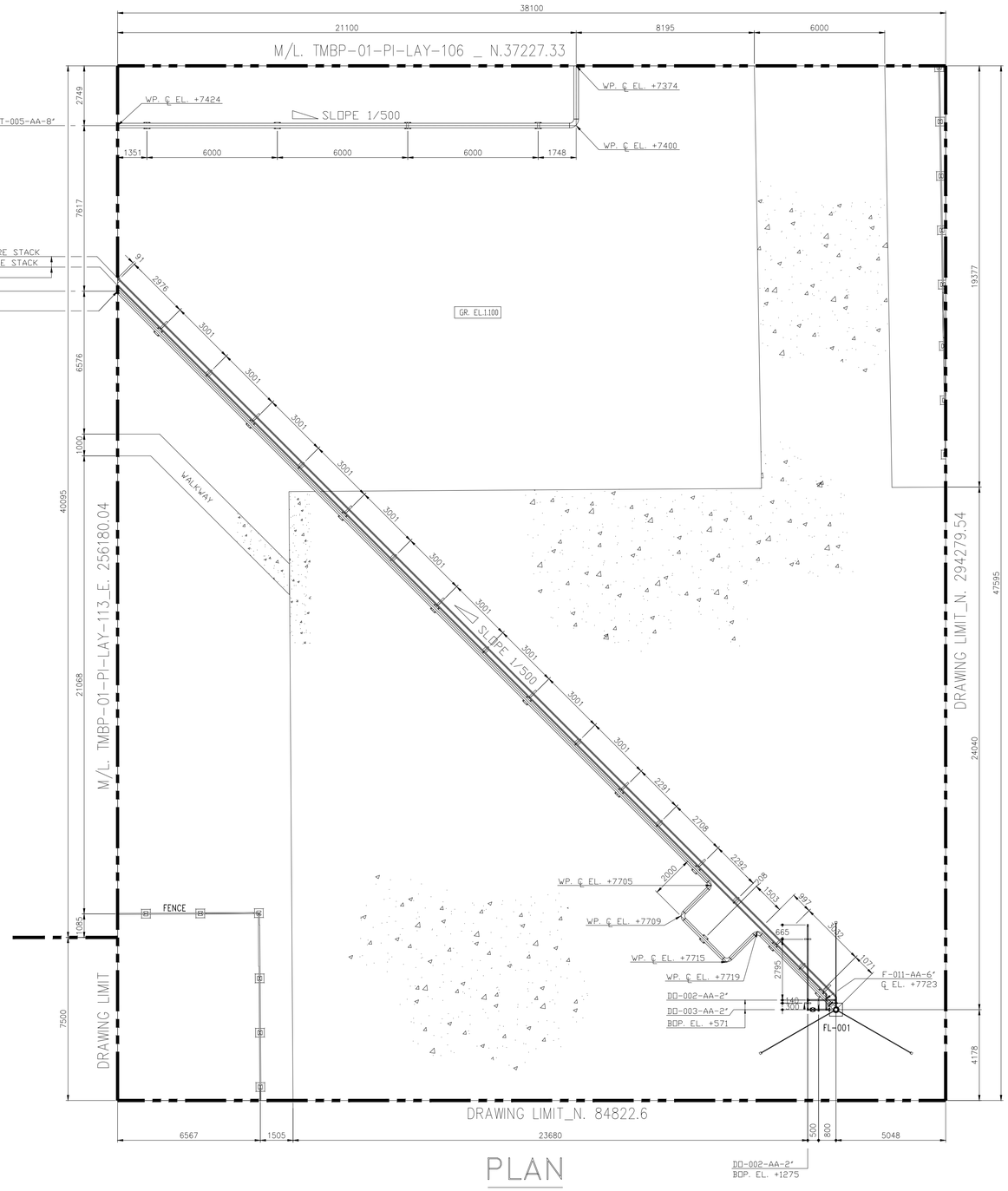

PLAN

KEY PLAN

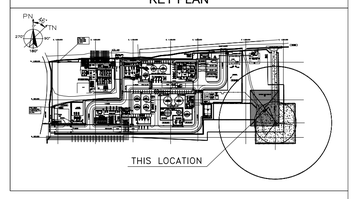

NOTE
1. ALL DIMENSIONS ARE IN MILLIMETERS, ELEVATION AND COORDINATE ARE IN METERS UNLESS OTHERWISE NOTED.
2. FINISH GROUND LEVEL EL = 0.00 = MSL+34.000

DRAWING REFERENCE	DESCRIPTION	REV.	DATE	DESCRIPTION	BY	CHECKED
TMBP-SP001-PI-PLP-D101	OVERALL PLOT PLAN					
TMBP-SP001-PI-PLP-D102	PLOT PLAN					
TMBP-SP001-PI-DNX-D101	DRAWING INDEX/KEY PLAN	A	01/01/2026	ISSUED FOR REVIEW	AGS	–

PT. PERTAMINA HULU ROKAN APPROVAL

CHECKED | APPROVED

PROJECT : JASA PEMBANGUNAN FASILITAS PRODUKSI STASIUN PENGUMPUL (SP) TANJUNG MIRING BARAT & KARANGAN TIMUR

OWNER : skkmigas PERTAMINA EP

CONTRACTOR: POG

SCALE : 1:100

DRAWING NO : TMBP-SP001-PI-LAY-D112

SHEET. NO. 1 OF 1

REV A

DRAWING TITLE : PIPING LAYOUT AROUND FLARE AREA