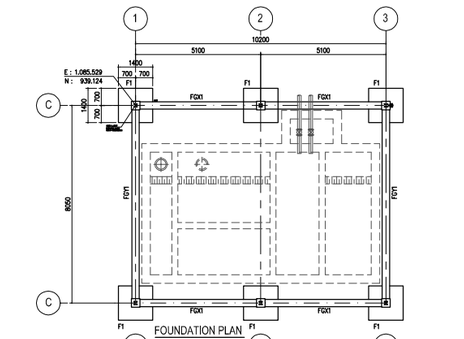

FOUNDATION PLAN
SCALE 1 : 125

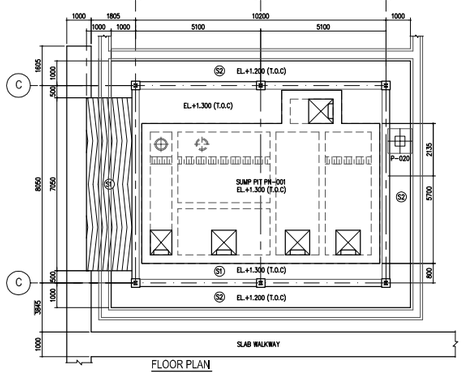

FLOOR PLAN
SCALE 1 : 125

GIRDER BEAM & BEAM SCHEDULE

MARK	FGX1, FGY1	
DIMENSION	300 x 400	
ELEVATION (T.O.C)	EL. +1.300 (T.O.C)	
LOCATION	BOTH END	MIDDLE
SECTION	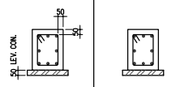	
TOP BAR	3 D13	3 D13
BOTTOM BAR	3 D13	3 D13
WEB BAR	2 D10	2 D10
STIRRUPS	D10 @150	D10 @150
CROSS TIE	–	–

SLAB SCHEDULE

MARK	S1
THICKNESS	200 THK
ELEVATION	EL +1.300
SECTION	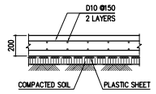
MARK	S2
THICKNESS	100 THK
ELEVATION	EL +1.300
SECTION	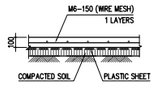

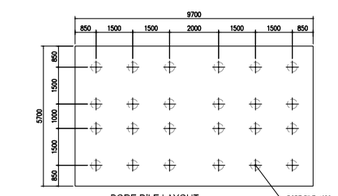

BORE PILE LAYOUT
SCALE 1 : 125

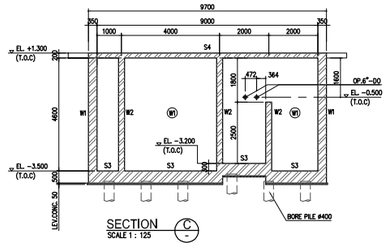

SECTION C
SCALE 1 : 125

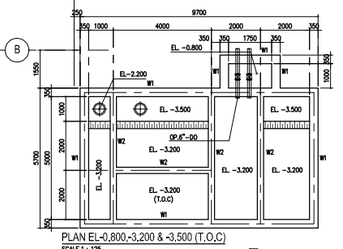

PLAN EL-0.800,-3.200 & -3.500 (T.O.C)
SCALE 1 : 125

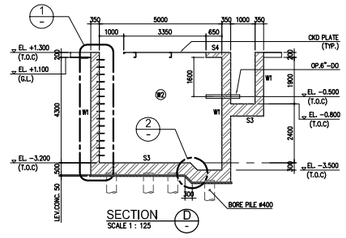

SECTION D
SCALE 1 : 125

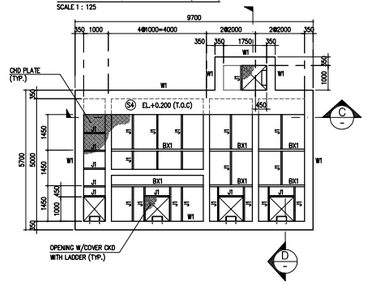

KEY PLAN

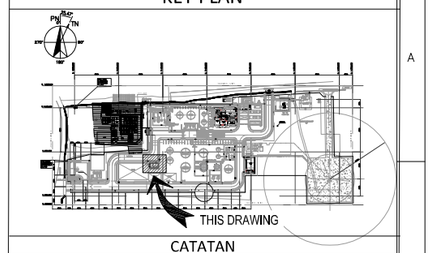

CATATAN

NOTE :

1. ALL DIMENSIONS ARE IN MILIMETERS, ELEVATION AND COORDINATE ARE IN METERS UNLESS OTHERWISE NOTED.
2. REFERENCE OF ELEVATION AND COORDINATE
   GL ± 0.000 = MSL +33.75 = +1.100
   PE =1.000.000 : E = 424962.745
   PN =1.000.000 : N = 9607576.210
3. MATERIAL SPECIFICATION
   – LEVELING COCRETE fc' = 15 MPa (CEMENT TYPE-I)
   – CONCRETE STRUCTURE fc' = 25 MPa (CEMENT TYPE-I)
   – DEFORMED BAR SNI 07-2052-2002, BJTP 40
     MINIMUM YIELD STRENGTH 4000 kg/cm2
   – PLAIN BAR SNI 07-2052-2002, BJTP 24
     MINIMUM YIELD STRENGTH 2400 kg/cm2
   – WIREMESH SHALL CONFORM TO ASTM A185 MIN. fy = 5000 kg/cm2
   – GROUTING : NON SHRINK GROUT, COMP.
     STRENGTH = 35 NPa CONFORM TO ASTM C1107
4. THIS SHELTER INCLUDE MANUAL HOIST 3 TON
5. THIS DOCUMENT IS FOR FEED ONLY. ANY DETAILS AND CHANGE DUE TO CONSTRUCTION PURPOSE SHALL BE DEVELOPED IN DETAIL ENGINEERING STAGE DIMENSION AND LOCATION SHALL BE VERIFIED TO LATEST PLOT PLAN AND VENDOR DATA

WALL SCHEDULE

MARK	W1
THICKNESS	350 THK
SECTION	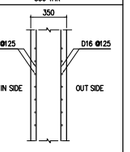
MARK	W2
THICKNESS	250 THK
SECTION	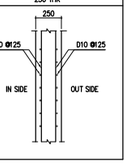

SLAB SCHEDULE

MARK	S3	S4
THICKNESS	500 THK	200 THK
ELEVATION	EL -3.200 (T.O.C) & EL-3.500 (T.O.C)	EL +1.300
SECTION	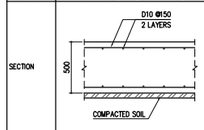	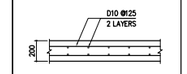

MEMBER SCHEDULE

MEMBER	MARK	PROFILE
BEAM	BX1	UNP-200x80x7.5x11
JOIST	J1	L-50x50x5

F1 DETAIL (QTY=6 NOS)

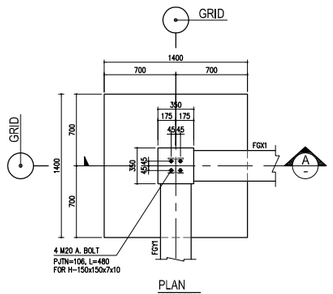

PLAN
SCALE 1 : 25

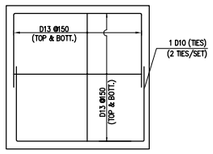

REBAR ARRANGEMENT
SCALE 1 : 25

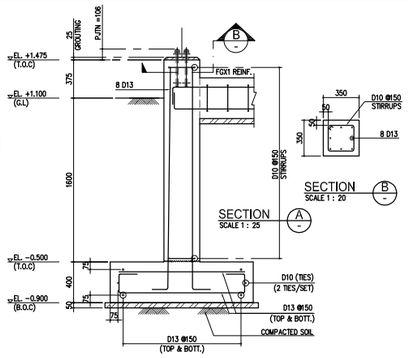

SECTION
SCALE 1 : 25

SECTION
SCALE 1 : 20

DETAIL 1

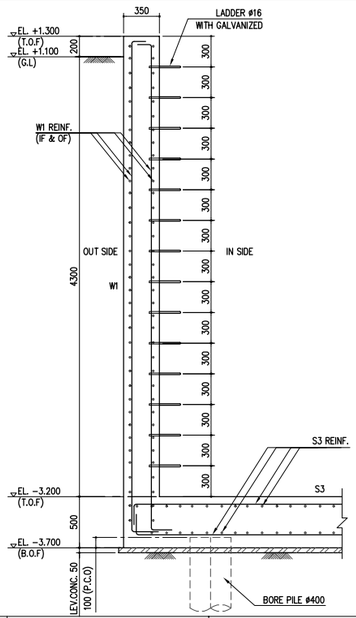

DETAIL 2

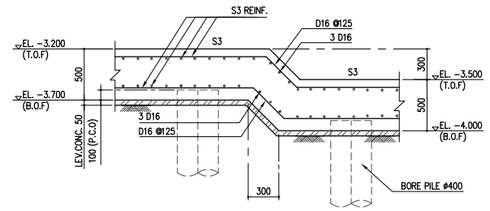

SECTION A

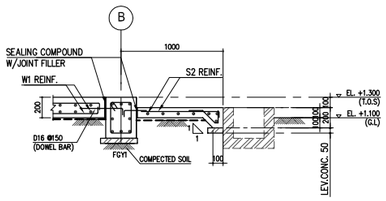

SECTION B

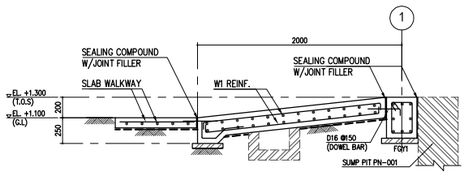

NOTES :

1. BEFORE STARTING CONSTRUCTION, CONTRACTOR SHALL VERIFY ACTUAL FIELD CONDITION AND DETERMINE LOCATION, ELEVATION OF EXISTING GRADING AND OTHER STRUCTURE. THE CONTRACTOR SHALL TAKE NECESSARY MEASURES TO HOLD SAFE AND PREVENT DAMAGE TO ANY EXISTING FACILITIES.

DRAWING REFERENCE	DESCRIPTION	REV	DATE	DESCRIPTION	PREPR'D	CHECK'D	APRV'D
TMBP-SP001-CS-ARC-106	ARCHITECTURE FLOOR PLAN, ROOF PLAN, AND ELEVATION FOR OILY PIT						
TMBP-SP001-CS-FRM-105	FRAMING PLAN, ROOF PLAN, ELEVATION, SECTION & DETAIL FOR OILY PIT						
TMBP-SP001-CS-LAY-D102	OVERALL FOUNDATION LAYOUT						
TMBP-SP001-CS-LAY-D101	PILLING LAYOUT						
TMBP-SP001-PI-PLP-101	OVERALL PLOT PLAN DRAWING	A	31/12/2025	ISSUED FOR REVIEW	NAS	AS	RTN

PT. PERTAMINA EP APPROVAL

CHECKED | APPROVED

PROCET :
JASA PEMBANGUNAN FASILITAS PRODUKSI STASIUN PENGUMPUL (SP) TANJUNG MIRING BARAT & KARANGAN TIMUR

OWNER : skkmigas PERTAMINA EP

CONTRACTOR : PCG

SCALE : NTS

DRAWING NO. TMBP-SP001-CS-BLD-105

SHEET. NO.

REV A

DRAWING TITLE :

FOUNDATION PLAN, DETAIL AND SECTION OF OILY PIT SHELTER