ARRANGEMENT OF JOINT FOR ROAD

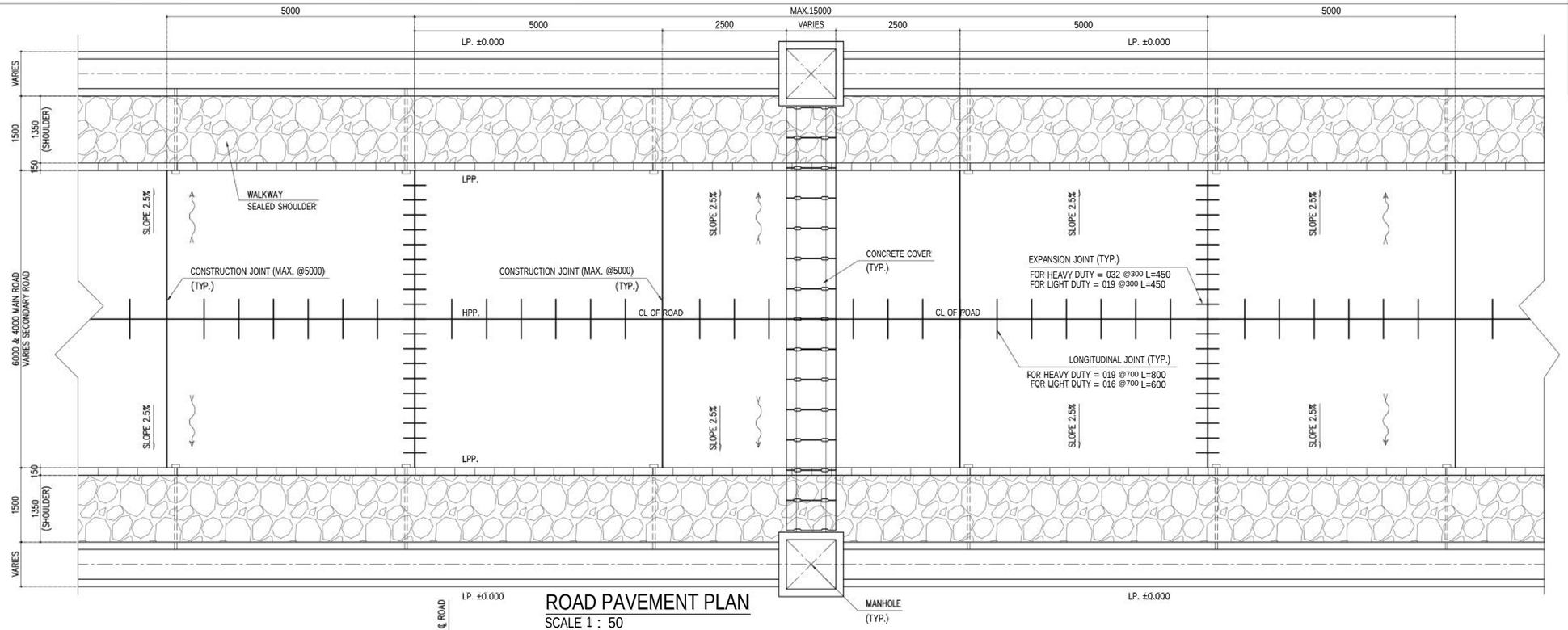

ROAD PAVEMENT PLAN

SCALE 1 : 50

CATATAN

NOTE :

1. ALL DIMENSIONS ARE IN MILIMETERS, ELEVATION AND COORDINATE ARE IN METERS UNLESS OTHERWISE NOTED.
2. FOR OTHER NOTES SEE DWG. NO. TMBP-01-CS-LAY-103

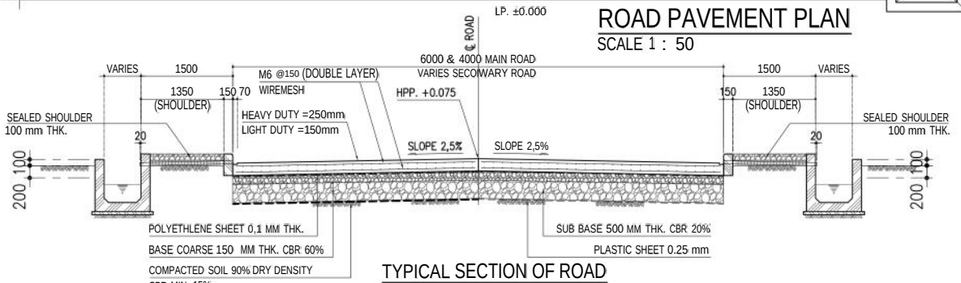

TYPICAL SECTION OF ROAD

SCALE 1 : 50

TYPICAL DETAIL CULVERT

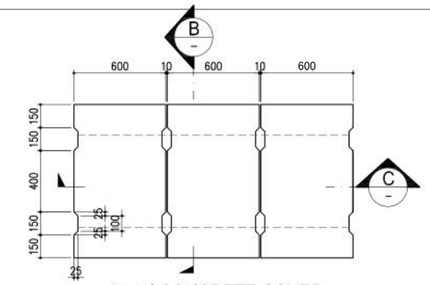

PLAN CONCRETE COVER

SCALE 1 : 20

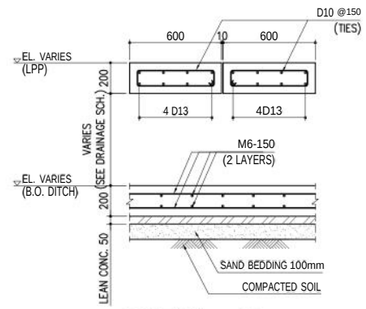

SECTION C

SCALE 1 : 20

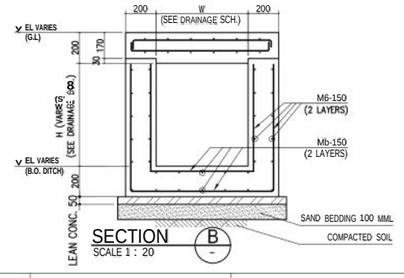

SECTION B

SCALE 1 : 20

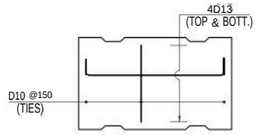

REBAR ARRANGEMENT FOR CONCRETE COVER

SCALE 1 : 20

CROSSING ROAD SCHEDULE

CULVERT	WIDTH (W)	WALL THICKNESS (t1)	SLAB THICKNESS (t2)	REBAR OF WALL	REBAR OF SLAB
CR-300	300	200	200	M6-150	M6-150
CR-600	600	200	200	M6-150	M6-150

TYPICAL DETAIL MANHOLE

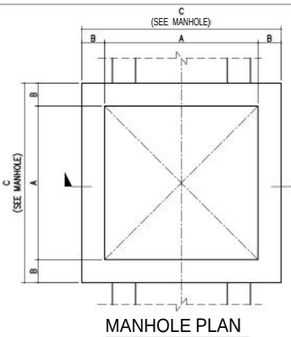

MANHOLE PLAN

SCALE 1 : 20

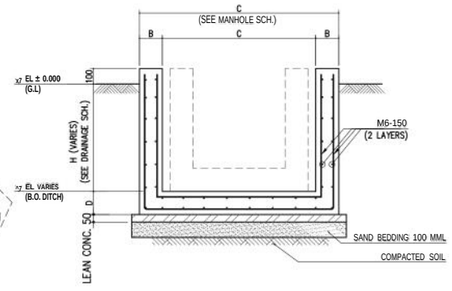

NOTES :

1. BEFORE STARTING CONSTRUCTION, CONTRACTOR SHALL VERIFY ACTUAL FIELD CONDITION AND DETERMINE LOCATION, ELEVATION OF EXISTING GRADING AND OTHER STRUCTURE. THE CONTRACTOR SHALL TAKE NECESSARY MEASURES TO HOLD SAFE AND PREVENT DAMAGE TO ANY EXISTING FACILITIES.

DRAWING REFERENCE	DESCRIPTION	REV	DATE	DESCRIPTION	PREPR'D	CHECK'D	APRV'D	CHECKED	APPROVED
TMBP–SP001–PI–PLP–101	OVERALL PLOT PLAN DRAWING	A	31/12/2025	ISSUED FOR REVIEW	NAS	AS	RTN		

PT. PERTAMINA EP APPROVAL

PROCET : JASA PEMBANGUNAN FASILITAS PRODUKSI STASIUN PENGUMPUL (SP) TANJUNG MIRING BARAT & KARANGAN TIMUR

OWNER : skkmigas PERTAMINA EP

CONTRACTOR : POG

SCALE : NTS

DRAWING NO. TMBP-SP001-CS-DET-103

SHEET. NO.

REV A

DRAWING TITLE : DETAIL & SECTION OF ROAD PAVEMENT AND DRAINAGE