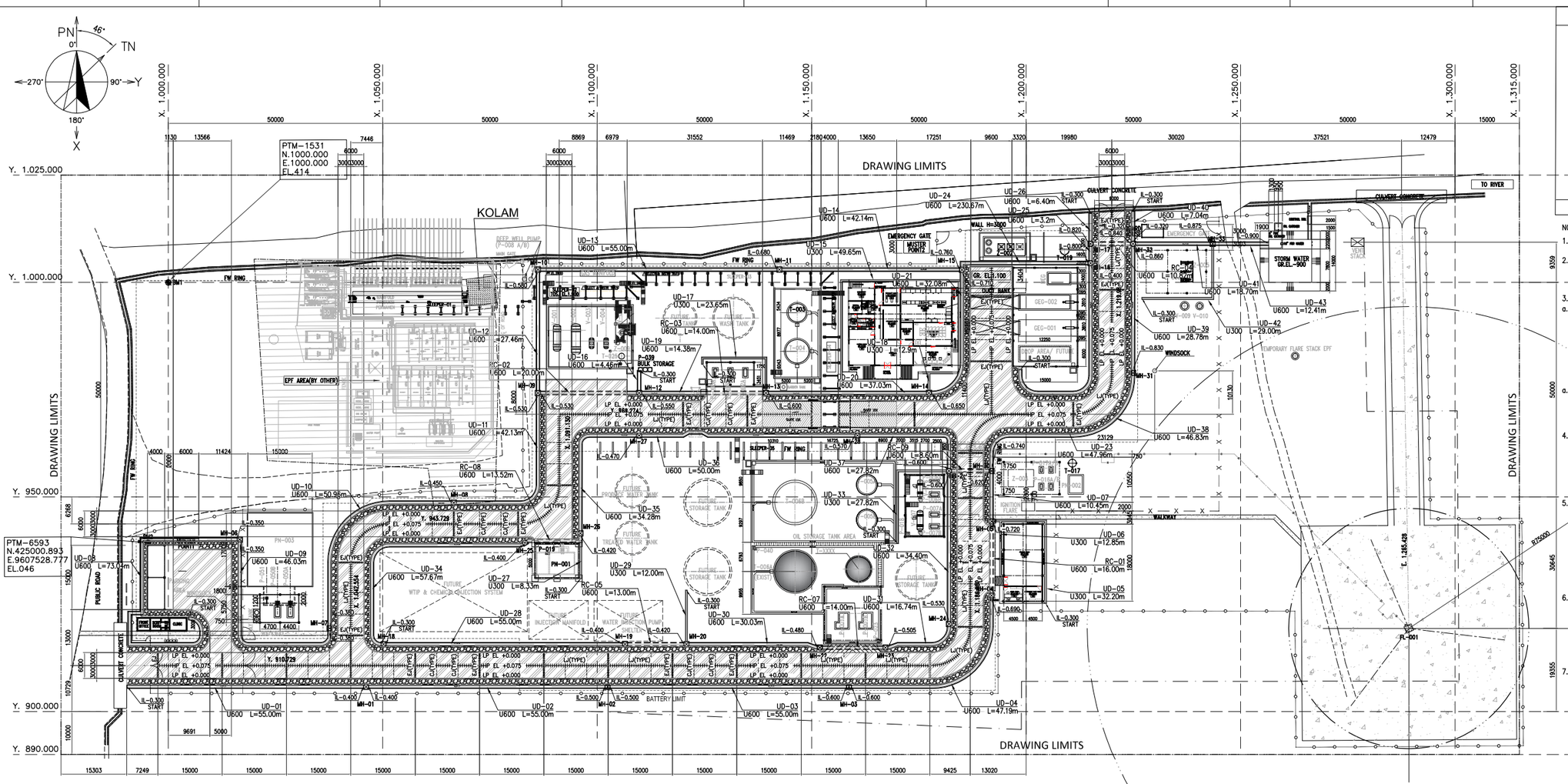

ROAD PAVEMENT AND SEWER & DRAINAGE LAYOUT
SCALE 1 : 600

KEY PLAN

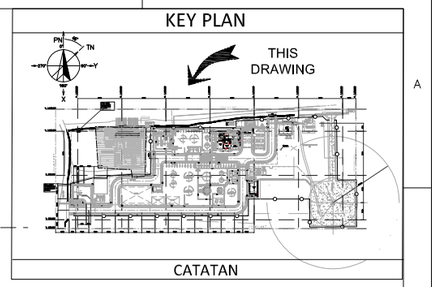

NOTE :

1. ALL DIMENSIONS ARE IN MILLIMETERS, ELEVATION AND COORDINATE ARE IN METERS UNLESS OTHERWISE NOTED.
2. REFERENCE OF ELEVATION AND COORDINATE
   GL ± 0.000 = MSL +33.75
   PE =1.000.000 : E = 424962.745
   PN =1.000.000 : N = 9607576.210
3. MATERIAL SPECIFICATION
   a. CONCRETE COMPRESSIVE STRENGTH :
   - fc' = 100 kg/cm2 FOR LEAN CONCRETE
   - fc' = 180 kg/cm2 FOR PANEL CONCRETE FENCE
   - fc' = 280 kg/cm2 FOR LIVING QUARTERS
   - fc' = 350 kg/cm2 FOR GENERAL CONCRETE BORED PILE AND OTHER STRUCTURE USAGE
   - fc' = 400 kg/cm2 FOR MN PILES
   - fc' = 500 kg/cm2 FOR PRESTRESSED CONCRETE AND PC PILE
   a. REINFORCEMENT BAR :
   - DEFORMED BAR, fy= 4000 kg/cm2 (FOR DIAMETER > 12 mm)
   - PLAIN BAR, fy= 2400 kg/cm2 (FOR DIAMETER < 12 mm)
   - WIREMESH, fy= 5000 kg/cm2
4. ABBREVIATIONS :
   HPP = HIGH POINT PAVEMENT
   LPP = LOW POINT PAVEMENT
   LJ = LONGITUDINAL JOINT
   EJ = EXPANSION JOINT
   CJ = CONSTRUCTION JOINT
5. LEGEND
   : CONRETE COVER
   : STORM SEWER
   : FENCE TYPE
   : SLOPE
   : MANHOLE
   : HEAVY DUTY PAVEMENT (250mm)
   : LIGHT DUTY PAVEMENT (150mm)
   : ROAD SUB BASE
   : PAVING BLOCK
6. ABREVIATION
   - IL : INVERT LEVEL
   - UD : U/DITCH
   - B.O.D : BOTTOM OF DITC
   - MH : MANHOLE
   - RC : ROAD CROSSING
7. ALL AREA INSIDE PLANT NOT SHOWN SPECIALLY SHALL BE GRAVELED 100 MM

TYPICAL DETAIL FOR DITCH

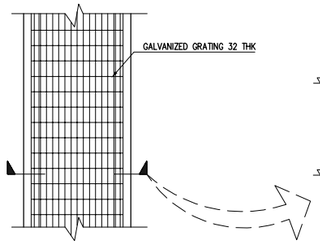

SEWER PLAN
SCALE 1 : 20

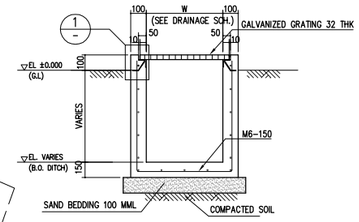

DITCH TYPE -1
SCALE 1 : 20

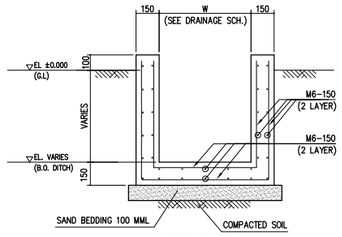

DITCH TYPE -2
SCALE 1 : 20

NOTES :

1. BEFORE STARTING CONSTRUCTION, CONTRACTOR SHALL VERIFY ACTUAL FIELD CONDITION AND DETERMINE LOCATION, ELEVATION OF EXISTING GRADING AND OTHER STRUCTURE. THE CONTRACTOR SHALL TAKE NECESSARY MEASURES TO HOLD SAFE AND PREVENT DAMAGE TO ANY EXISTING FACILITIES.

DRAWING REFERENCE	DESCRIPTION	REV	DATE	DESCRIPTION	PREPR'D	CHECK'D	APRV'D	CHECKED	APPROVED
TMBP-SP001-PI-PLP-101	OVERALL PLOT PLAN DRAWING	A	07/01/2026	ISSUED FOR REVIEW	NAS	AS	RTN		

PT. PERTAMINA EP APPROVAL

PROCET :
JASA PEMBANGUNAN FASILITAS PRODUKSI STASIUN PENGUMPUL (SP) TANJUNG MIRING BARAT & KARANGAN TIMUR

OWNER : skkmigas PERTAMINA EP

CONTRACTOR : PCG

SCALE :	DRAWING NO.	SHEET. NO.	REV
1 ; 600, 1: 20	TMBP-SP001-CS-LAY-D103	1 OF 1	A

DRAWING TITLE :

ROAD PAVEMENT AND SEWER & DRAINAGE LAYOUT