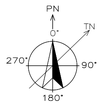

KEY PLAN

THIS LOCATION

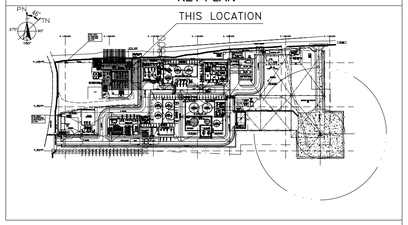

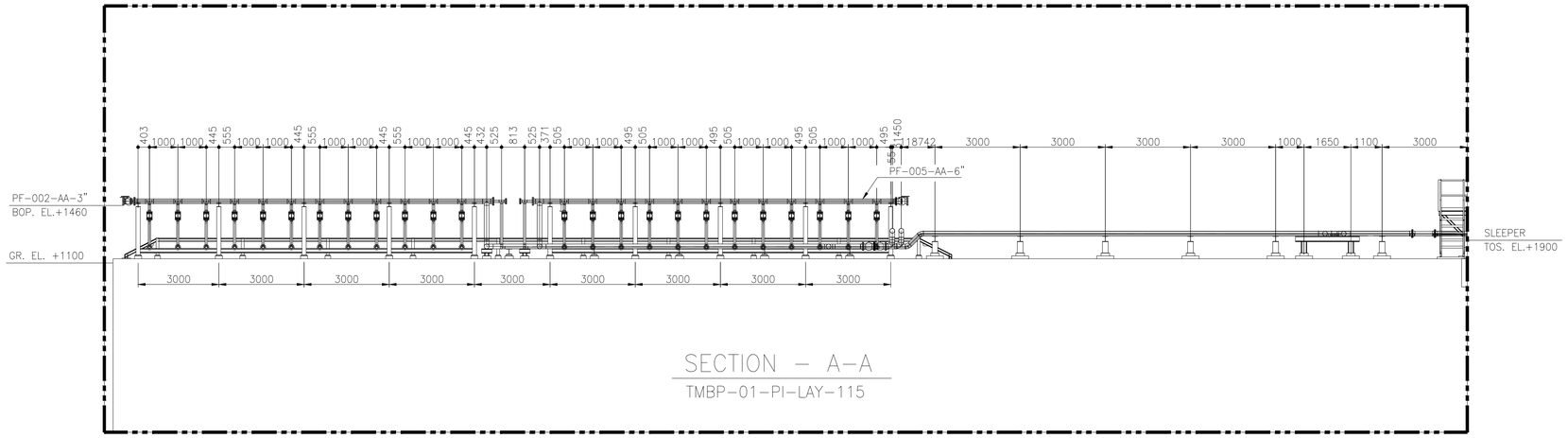

SECTION – A–A

TMBP–01–PI–LAY–115

NORTH VIEW

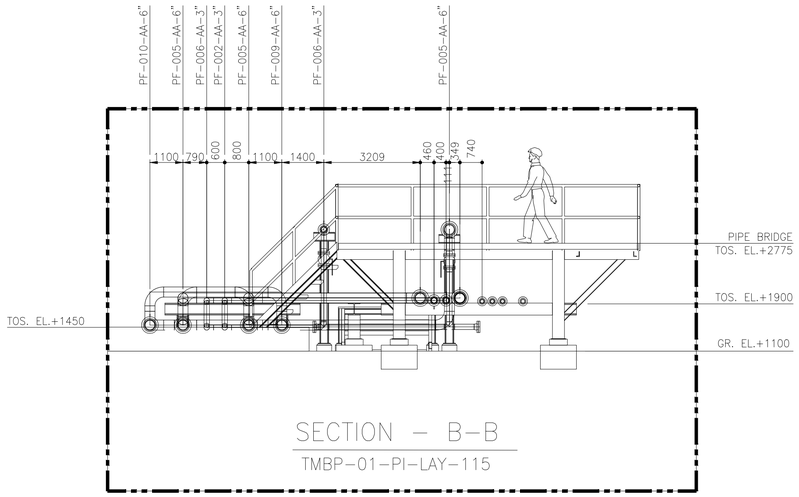

SECTION – B–B

TMBP–01–PI–LAY–115

WEST VIEW

NOTE
1. ALL DIMENSIONS ARE IN MILLIMETERS, ELEVATION AND COORDINATE ARE IN METERS UNLESS OTHERWISE NOTED.
2. FINISH GROUND LEVEL EL = 0,00 = MSL+34.000

DRAWING REFERENCE	DESCRIPTION	REV.	DATE	DESCRIPTION	BY	CHECKED
TMBP–SP001–PI–PLP–D101	OVERALL PLOT PLAN					
TMBP–SP001–PI–PLP–D102	PLOT PLAN					
TMBP–SP001–PI–DNX–D101	DRAWING INDEX/KEY PLAN	A	11/01/2026	ISSUED FOR REVIEW	AGS	–

PT. PERTAMINA HULU ROKAN APPROVAL

CHECKED | APPROVED

PROJECT :

JASA PEMBANGUNAN FASILITAS PRODUKSI STASIUN PENGUMPUL (SP) TANJUNG MIRING BARAT & KARANGAN TIMUR

OWNER :

skkmigas PERTAMINA EP

CONTRACTOR:

POG

SCALE :	DRAWING NO :	SHEET. NO.	REV
1:100	TMBP-SP001-PI-LAY-D114	1 OF 1	A

DRAWING TITLE :

PIPING SECTION DRAWING AROUND PRODUCTION MANIFOLD